P2 - Plotting oceanographic data and timeseries

Part 1 – Profiles

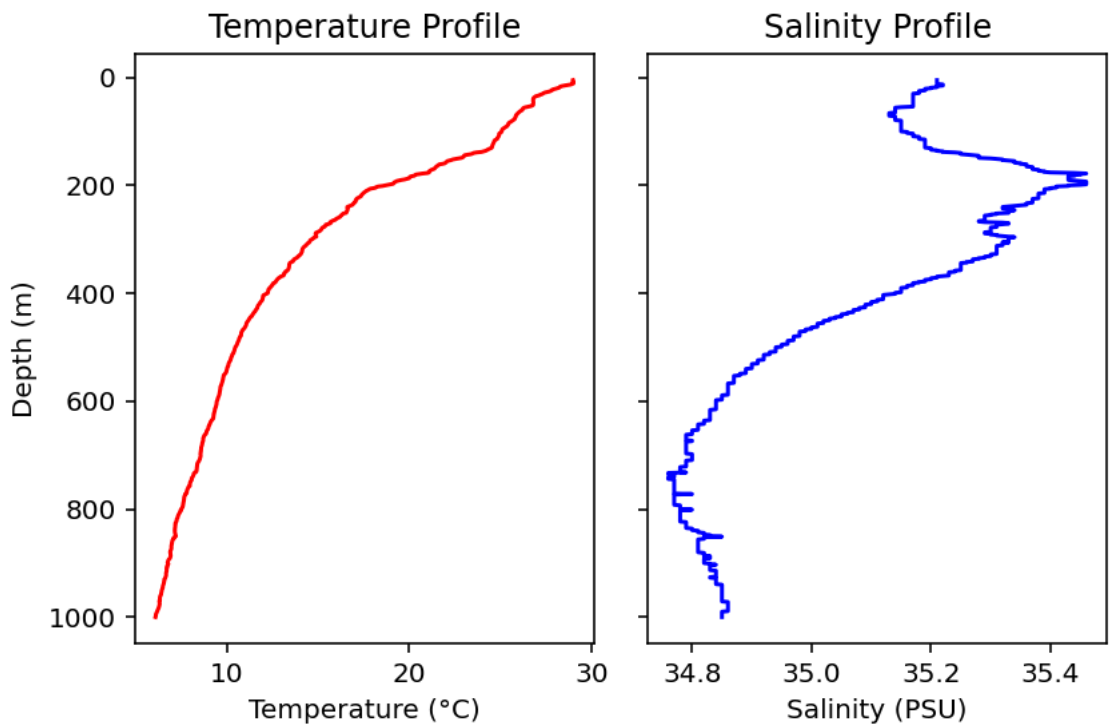

Figure 1: Temperature and salinity vertical profiles in the Southern Ocean (winter of 2017).

Part 2 – Time Series

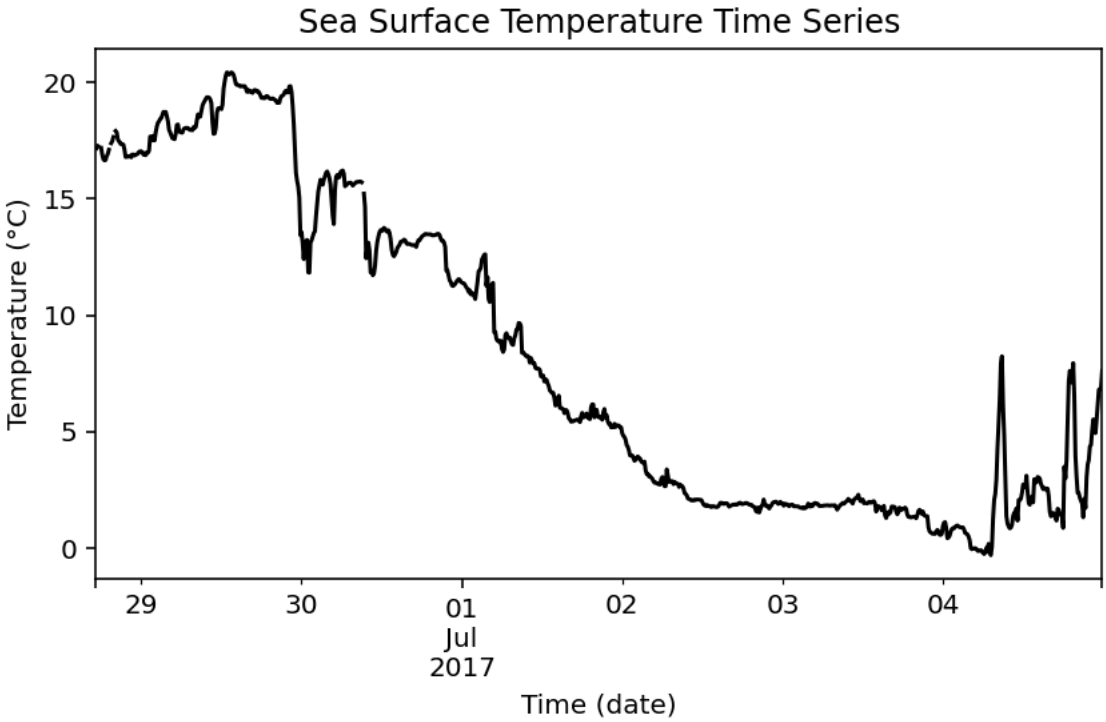

Figure 2 Time series of Temperature from 29 June 2017 to 4 July 2017 in the Southern Ocean.

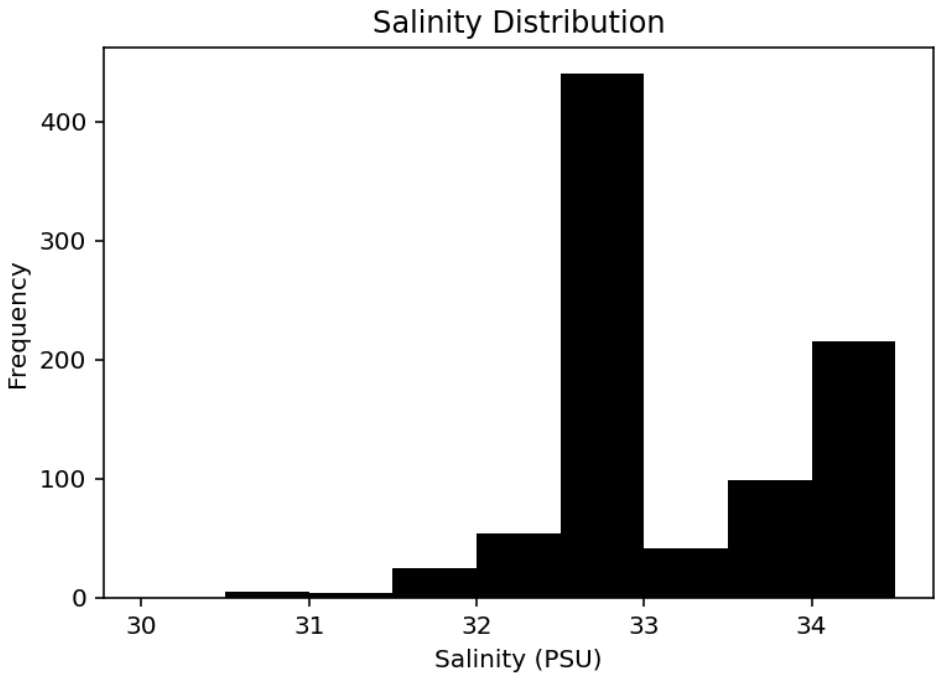

Figure 3 Distribution of salinity values (PSU) in the Southern Ocean (winter of 2017).

Table 1 Mean, standard deviation and interquartile range of temperature and salinity in the Southern Ocean (winter of 2017).

	Mean	**Std Dev**	**IQR**
Temperature (ºC)	8,146540625	6,747987573	11,76885
Salinity (PSU)	33,11055268	1,140150294	1,272575

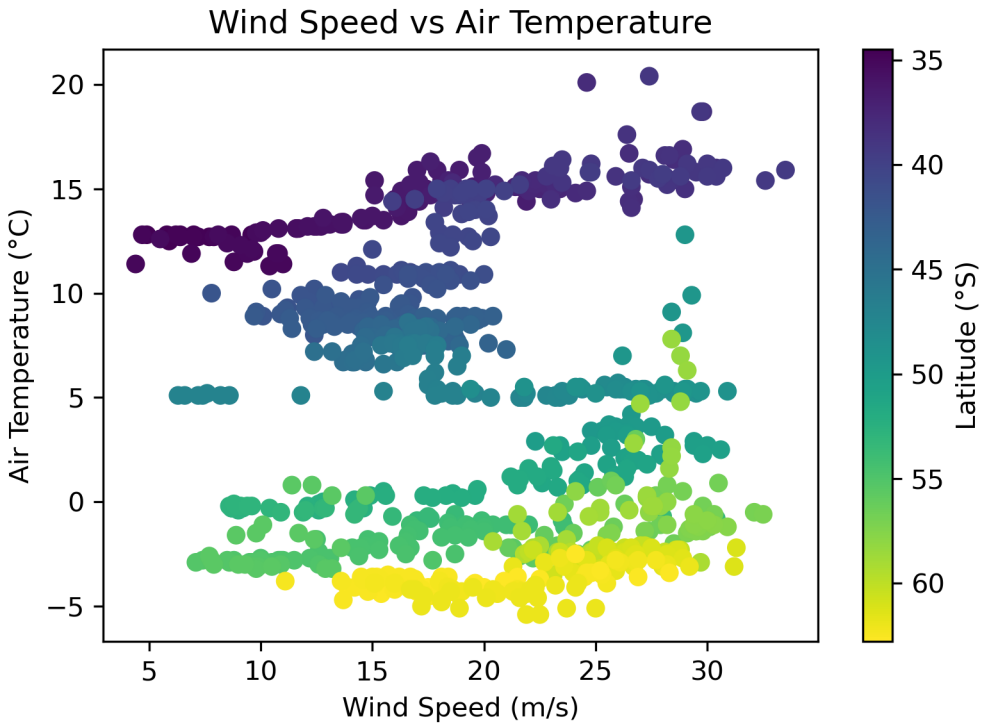

Figure 4 Scatter plot of air temperature and wind speed in the Southern Ocean (winter of 2017).